Metradica

Marion Boisseaux

2022-01-31

Contents

1 About **5**

I Part one: general introduction **7**

2 Background **9**

3 Project introduction **11**

4 Hypotheses **13**

II Part two : Materials & Method **15**

5 Sampling **17**

5.1 Habitats 17

5.2 Sites 18

5.3 Species 21

5.4 Individuals 24

5.5 Summary 25

6 Traits **27**

6.1 Morphological traits 27

6.2 Hydraulic traits 27

6.3 Photochemical trait 28

6.4 Measured traits 28

6.5 Protocols 28

III Part three : Results **31**

7 PCA results **33**

8 Trait covariation **35**

IV Part four : Notes **39**

9 26/01/2022 **41**

Chapter 1

About

to describe

Part I

Part one: general introduction

Chapter 2

Background

- Tropical ecosystems, Amazon basin, focus on French Guiana
- Threats : droughts
- Trait-based ecology to define species strategies; a mechanistic understanding with hydraulic traits

Chapter 3

Project introduction

My thesis is 100% involved in the METRADICA strategic project lead by Clement Stahl and Ghislain Vieilledent. **Mechanistic traits to predict shifts in tree species abundance and distribution with climate change in the Amazonian forest**.

The global objectives of Metradica are to estimate species vulnerability to climate change and predict shifts in species distribution from species traits.

It combines: current species distribution, hydrological indices, climatic predictions, and use a few key traits at the individual level in innovative models (joint species distribution model; JSDMs), in order to better understand the processes by which species interact with their environment.

There are 4 tasks :

1. environmental index + species hydrological affinity
2. species distribution + functional responses to env't
3. prediction of species distribution from traits using *four-corners* joint species distribution models
4. shifts in species distribution through the lens of demographic process: interaction between models

I am involved in task 2 : to acquire additional traits information in order to have an understanding of the environmental effect on intra- and inter- specific trait variability for morpho-anatomic and mechanistic traits at regional and local scales.

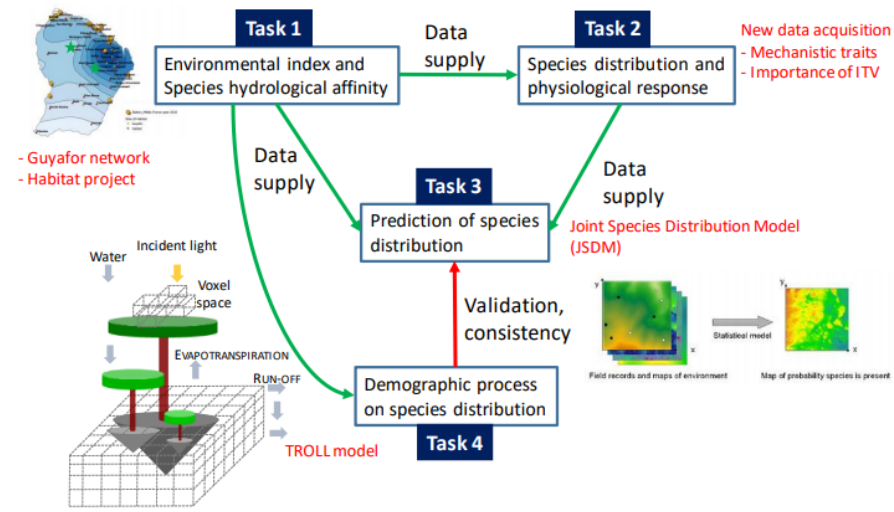

Figure 2: Operational organization of the project depicting the four tasks and their relationships

Figure 3.1: METRADICA

Chapter 4

Hypotheses

(1) Importance of local habitat in shaping functional strategies

- Habitats are widely recognized to control trait variation
- Identify species with statistically significant habitat associations
- Traits syndromes for specialists vs. generalists

(2) Patterns of functional responses to drought along a precipitation and topographic gradient

- Explore how trait values vary across a precipitation gradient (Bafog "dry" to Kaw "wet")
- Are associations among traits consistent along the gradient in each habitat? Species should converge to a set of trait values that maximize their resource use efficiency. (Vleminckx et al 2021)
- Identify species in their limit range regarding drought resistance. **(3) Evaluating the inter- and intra-specific variation of hydraulic and leaf traits**

Metradica data : exploring generalists species ITV (~60 individuals per species) Hypothesis : because species' responses to the environment manifest through functional traits, the higher the ITV of a species is, the more diverse abiotic environments the species may be able to adapt to (Umaña et al., 2015).

Part II

Part two : Materials & Method

Chapter 5

Sampling

5.1 Habitats

Two main forest habitats are present in French Guiana, *terra firme* (high clay content and high water drainage) and *seasonally flooded forests* (nutrient rich soils and at least 3 months of annual flooding) (INSERER BIBLIO Ferry, 2010). The water table is never observed to descend below 60 cm depth and remains at the soil surface for at least two consecutive months each year (Baraloto et al., 2007; Ferry et al., 2010). During the field campaigns, we ensure that all trees sampled correspond to the correct habitat. In this case, any errors of habitat classification on the maps are being rectified.

The habitat classification of the tree species are based on all the past project achieved.

5.1.1 Hydrological indexes

Topographic variables are strong proxies for soil hydrology, which correlates with a combination of physico-chemical properties. A new hydrological index that accounts for both variations in climate and soil / topography across sites by combining the concept of MCWD with the one of Relative Extractable Water (e.g. Wagner et al. 2011) or Plant Available Water capacity (Nepstad et al. 2004, Ouédraogo et al. 2016). For Paracou, there is the topography classification established by Allié, Pélissier et al., 2015. *Sylvain*: The topographic wetness index ( ), identifies water accumulation areas. TWI was derived from 185 a 1-m resolution digital elevation model built based on data from a LiDAR campaign done in 186 2015 using SAGA-GIS (Conrad et al. 2015).

5.1.2 How do we define seasonally flooded soils?

On maps, pixels located at an altitude difference of less than 2 m from the altitude of the nearest surface run-off of the same catchment area. *pixels situés à moins de 2m de dénivelé du plus proche écoulement de surface appartenant au même bassin versant.* Surface run-off corresponds to pixels receiving the waterflow of at least 75 pixels upstream. Everything is being calculated from the SRTM 30 m (after adjusting the basin area with fillings.)

Gaelle information:

- utilisation couche sig onf
- critere pente (inf 20° = BF, pente moins forte espece de lissage avec bc d'arbres en BF, durcissement des criteres, affiner et bien tomber dans du BF) *comment:* SRTM pente 20° à 30m ne correspond pas n'ont plus à la pente sur le terrain, il y a une imprecision. but again in natura we make sure the tree is really in the corresponding habitat.
- distance à la crique (inf 50m) (marginale)

The classification in the waterlogged habitat may be loose and not as precise as for the *terra firme*, but it does not impact the sampling. As we mentioned above, *in natura* we assess if the tree is really in a waterlogegd habitat or not.

5.2 Sites

Permanent forest plots of the Guyafor network monitor since 1970 (Bafog, Paracou) individual tree growth and mortality in order to understand the different drivers of forest dynamics, including climate and disturbance. The network coves > 235 ha of tropical forest on 12 experimental sites. They are co-managed by the Cirad, CNRS and ONF institutes. METRADICA leaf samplings took place in the control plots.

Paracou : 9 of these permanent forest plots were subjected to 3 different forest exploitation treatments. Out of 9, 3 plots served as control plots. In 1992, 3 additional biodiversity / control plots of 6.25 ha in size and one 25 ha plot were established. Within these plots all trees with a diameter at breast height (DBH) above 10 cm were mapped. Species richness at Paracou ranges between 150 and 200 species per hectare. Since the establishment of the permanent forest plots, tree inventories take place at Paracou, recording tree status (alive or dead) and the DBH to the nearest 0.5 cm. Samplings were done in plots 6, 11, 13, 14, 15, and 16 from the 23/10/2020-7/12/2020 and from 13/09/2021- 17/09/2021. 244 trees sampled but 240 individuals with values. Lost 4 individuals (bota error usually)

Bafog: 5 permanent plots monitored of the ONF institute. Samplings were done in plots 2, 3, 4, and 5 and off plots from the 1st to 16th of March 2021.

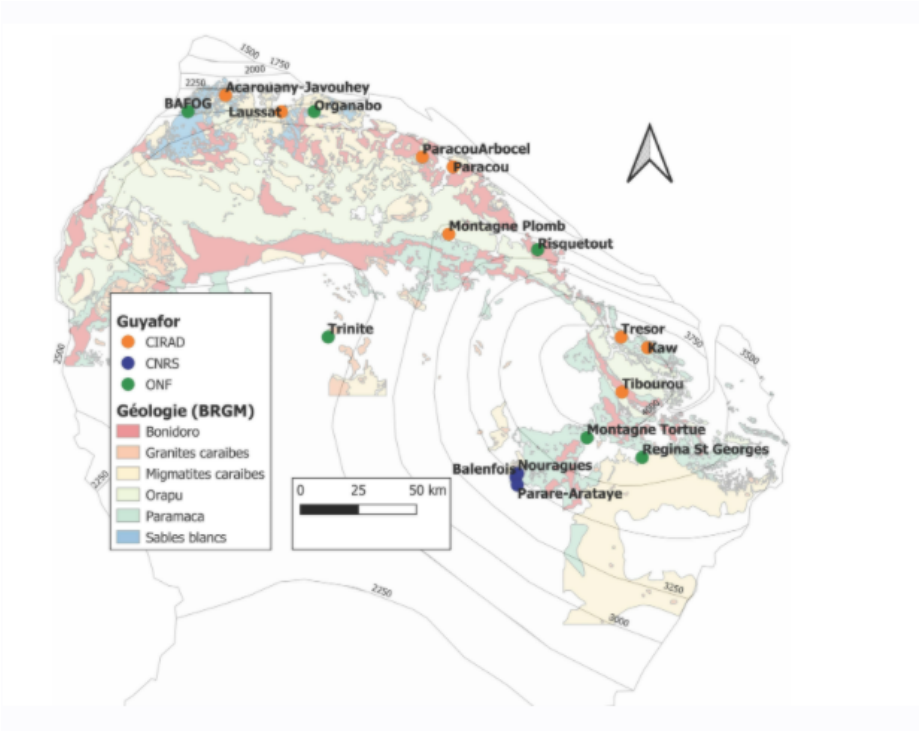

Figure 5.1: Guyafor stations for tropical forest monitoring

Est: Samplings were done in plots KawGuyafor (1 ha) and Trésor from the 4th to 23rd of October 2021. Some trees were also sampled outside the plots.

The three sites were chosen in order to sample species along the rainfall gradient.

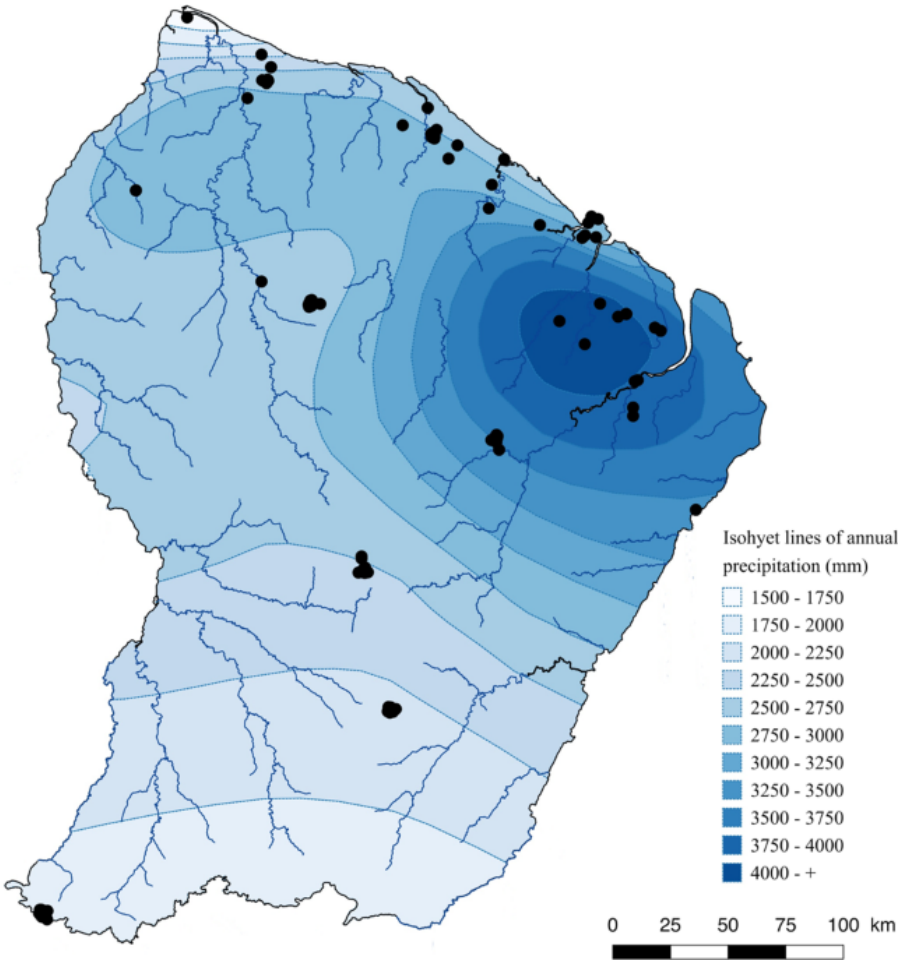

Figure 5.2: Rainfall gradient in French Guyana

5.3 Species

5.3.1 Indicator Species Analysis

We explored the degree of habitat preference using **Indicator Species Analysis** (Dufrene & Legendre 1997). It takes account of both relative abundance and relative frequencies of each species across the two main habitats in French Guiana, seasonally flooded forest and Terra firme forests.

- Generalist: IndVal 0 in the habitats (pVal>0.08)
- Specialists: IndVal > 0.24 in one habitat (pVal<0.08)

Species with high IndVals means that the species prefers the habitat (but not exclusive, hence the word **preference**), but are also a high probability of being sampled in the given habitat.

Our analysis identified 9 generalist taxa, 8 SFF specialist taxa and 7 terra firme specialist taxa.

5.3.2 More details about IndVal

IndVal used by other projects (ex. INSERER BIBLIO TerSteege et al 2013). The relative abundance and the relative frequency must be combined by multiplication because they represent independent information about the species distribution. X100 for a percentage. The index is max when all individuals of a species are found in a single group of sites or when the species occurs in all sites of that group. The statistical significance of the species indicator values is evaluated using a randominization procedure. Significance of habitat association was estimated by a Monte Carlo procedure that reassigns species densities and frequencies to habitats 1000 times. It therefore gives an ecological meaning as it compares the typologies.

Other indicators:

- Contrary to **TWINSPAN**, this indicator index for a given species is independent of other species relative abundances and there is no need for pseudospecies
- Species richness (sensitive to several factors)
- Oliviera species association to the topographic and edaphic gradient : weighted the HAND or P concentration of the plot by the abundance of the species in the plot. Divided by the number of individuals of the species in all plots.

5.3.3 Chosen species

Our analysis identified 9 generalist taxa, 8 SFF specialist taxa and 7 terra firme specialist taxa.

Family	Genus	Species	Type	Paracou	FTH	ParacouT
Fabaceae	Bocoa	prouacensis	Generalists	15	NA	
Sapotaceae	Chrysophyllum	prieurii	Generalists	12	5	
Euphorbiaceae	Conceveiba	guianensis	Generalists	18	2	
Lecythidaceae	Eschweilera	coriacea	Generalists	20	NA	
Chrysobalanaceae	Hymenopus	heteromorphus	Generalists	20	NA	
Bignoniaceae	Jacaranda	copaia	Generalists	18	2	
Burseraceae	Protium	stevensonii	Generalists	4	8	
Fabaceae	Tachigali	melinonii	Generalists	15	1	
Myristicaceae	Virola	michelii	Generalists	6	5	
Meliaceae	Carapa	surinamensis	SFF specialists	10	NA	
Fabaceae	Eperua	falcata	SFF specialists	11	NA	
Myristicaceae	Iryanthera	hostmannii	SFF specialists	9	NA	
Salicacea	Laetia	procera	SFF specialists	8	1	
Burseraceae	Protium	opcaum	SFF specialists	10	NA	
Fabaceae	Pterocarpus	officinalis	SFF specialists	10	NA	
Clusiaceae	Symphonia	globulifera	SFF specialists	10	NA	
Myristicaceae	Virola	surinamensis	SFF specialists	1	5	
Salicacea	Casearia	javitensis	TF specialists	6	5	
Fabaceae	Dicorynia	guianensis	TF specialists	6	NA	
Lecythidaceae	Gustavia	hexapetala	TF specialists	4	1	
Myristicaceae	Iryanthera	sagotiana	TF specialists	5	NA	
Chrysobalanaceae	Licania	membranacea	TF specialists	5	NA	
Metteniusaceae	Poraqueiba	guianensis	TF specialists	11	NA	
Fabaceae	Vouacapoua	americana	TF specialists	5	NA	

Un espèce : bc mortlité chez les jeunes donc parti pris de les considerer dans le choix des habitats. (percentile 10-90). For *Eperua falcata*: BF?? see Laurens porter 2007 (are species adapted …)

5.3.4 Phylogeny

We also wanted to maximize the phylogeny to get a greater picture, having specialists and generalists in the main clades: (Rosids, Asterids, Magnoliids). This would allow us to assess whether the different strategies to drought tolerance can be extend to the species of the same clade.

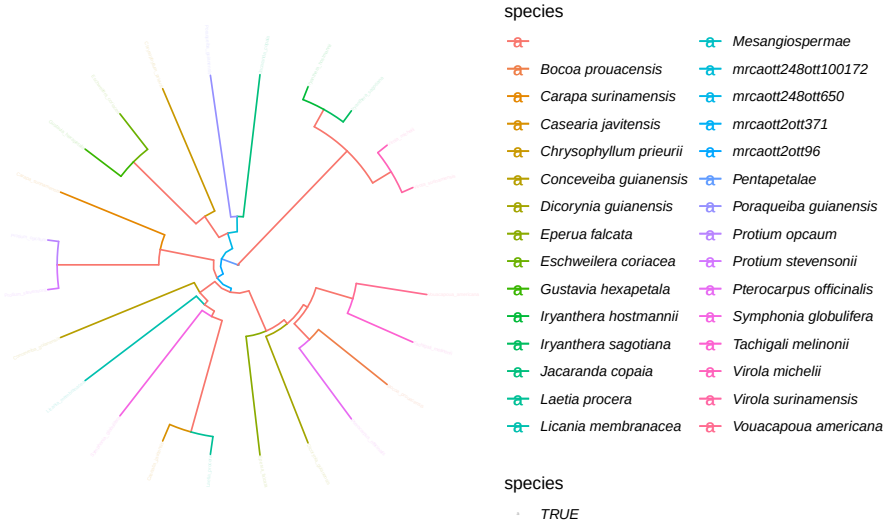

Figure 5.3: phylogeny

5.4 Individuals

The individuals were selected with a DBH value between the 10th and the 90th percentile of the species' distribution pattern, in order to have a sampling that best reflects the forest structure. In this percentile interval, species were randomly selected for sampling.

Sampling strategy :

- Maps were produced by QGIS software
- **Field** protocol
- Fill the fieldworksheet **Fieldworksheet**

☐ Assess tree and branch height



Figure 4-1. Indice de Dawkins (in Alder and Synnott 1992).

☐ Assess tree and branch Dawkins :

5.5 Summary

- 2 habitats (Terra firme; Seasonally flooded soils)
- 24 species (9 generalists; 8 SFF; 7 TF)
- 10 individuals per species per site
- 9 traits to investigate for drought tolerance

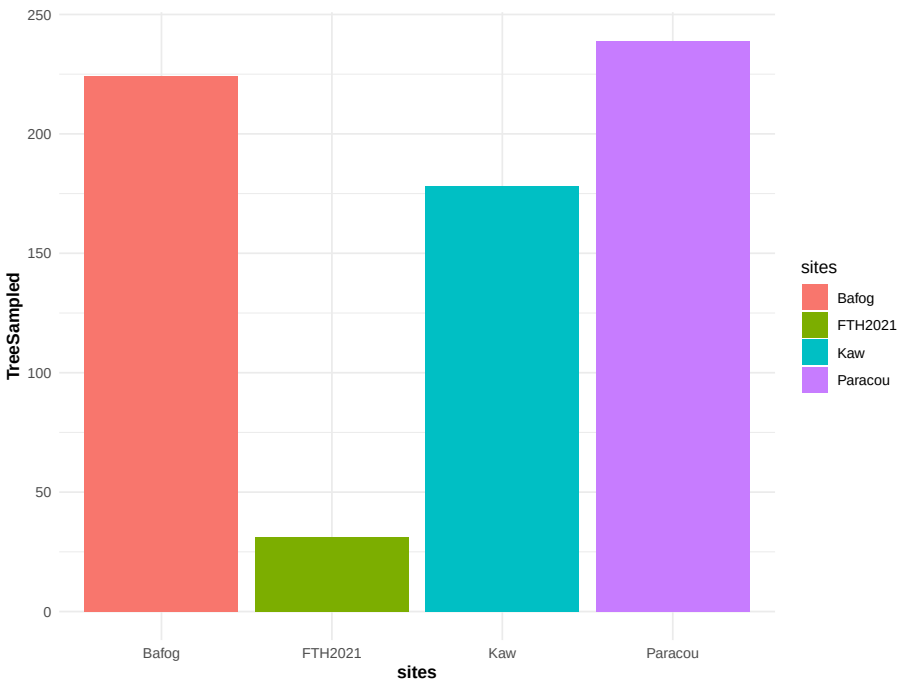

Table 5.1: Individuals per species collected on the 3 sites

Family	Genus	Species	Type	Paracou	FTH	ParacouT
Fabaceae	Bocoa	prouacensis	Generalists	15	NA	
Sapotaceae	Chrysophyllum	prieurii	Generalists	12	5	
Euphorbiaceae	Conceveiba	guianensis	Generalists	18	2	
Lecythidaceae	Eschweilera	coriacea	Generalists	20	NA	
Chrysobalanaceae	Hymenopus	heteromorphus	Generalists	20	NA	
Bignoniaceae	Jacaranda	copaia	Generalists	18	2	
Burseraceae	Protium	stevensonii	Generalists	4	8	
Fabaceae	Tachigali	melinonii	Generalists	15	1	
Myristicaceae	Virola	michelii	Generalists	6	5	
Meliaceae	Carapa	surinamensis	SFF specialists	10	NA	
Fabaceae	Eperua	falcata	SFF specialists	11	NA	
Myristicaceae	Iryanthera	hostmannii	SFF specialists	9	NA	
Salicacea	Laetia	procera	SFF specialists	8	1	
Burseraceae	Protium	opcaum	SFF specialists	10	NA	
Fabaceae	Pterocarpus	officinalis	SFF specialists	10	NA	
Clusiaceae	Symphonia	globulifera	SFF specialists	10	NA	
Myristicaceae	Virola	surinamensis	SFF specialists	1	5	
Salicacea	Casearia	javitensis	TF specialists	6	5	
Fabaceae	Dicorynia	guianensis	TF specialists	6	NA	
Lecythidaceae	Gustavia	hexapetala	TF specialists	4	1	
Myristicaceae	Iryanthera	sagotiana	TF specialists	5	NA	
Chrysobalanaceae	Licania	membranacea	TF specialists	5	NA	
Metteniusaceae	Poraqueiba	guianensis	TF specialists	11	NA	
Fabaceae	Vouacapoua	americana	TF specialists	5	NA	

Chapter 6

Traits

This chapter defines measured and sampled traits with associated protocols.

6.1 Morphological traits

- **LA**: leaf area cm^2 : carbo- acquisition related trait which informs on the light capture strategy.
- **LDMC**: leaf dry matter content $mg.g^{-1}$: a carbon-acquisition related trait which informs on the carbon investment in physical resistance and defense.

6.2 Hydraulic traits

- **RWC**: relative water content (%) is of special interest as it reflects the amount of water present the leaf relative to the maximum it can hold (*INSERER BIBLIO Barrs & Weatherley 1962*)
- π_{TLP}: leaf water potential at which leaf cells lose turgor (MPa), a key drought tolerance trait.
- g_{min}: leaf minimum conductance $mmol.m^{-2}.s^{-1}$ taking into account water losses through the cuticle and incompletely closed stomata.
- **Stomatal characteristics (size, density)**: morphological characteristic at the crossroads between water loss and the maximum rate of photosynthesis.(*INSERER BIBLIO Julio V. Schneider 2016*)
- **Nervation density**: determining the capacity of water supply in leaves. (*INSERER BIBLIO Julio V. Schneider 2016*)
- **Leaf chemistry** : To assess the leaves' concentration in carbon, nitrogen and phosphorous.

- **Pmidday**: Water potential at the driest point of the day.
- **δ 18 O and δ 13 C** : Informs patterns of carbon and water use, related to water use efficiency. (*INSERER BIBLIO Farquhar et al 1989*) Measured in Vienna.

6.3 Photochemical trait

- $\frac{Fv}{Fm}$: maximum quantum yield of photosystem II, which reflects photosynthesis efficiency ($\mu mol.m^{-2}.s^{-1}/\mu mol.m^{-2}.s^{-1}$). It is an indicator of photosynthetic performance, as it has been shown to be sensitive to drought constraints in tropical forests (*INSERER BIBLIO Manzi et al 2021*) but decline after other leaf hydraulic traits (*INSERER BIBLIO Trueba et al 2019*).

6.4 Measured traits

- Day 1
  - Fresh
    - On field: Pmidday
    - scan gmin leaves
    - fresh weight RWC
    - g_{min} weight

    - **Stomatal density** nail polish (3 replicates per indivual)
    - $\frac{Fv}{Fm}$
  - Day 2
    - saturated weight RWC
    - g_{min} finish weights (at least 2 points next day)
    - π_{TLP}
  - Day 5 (+72h)
    - Dry weight RWC
- Later on :
  - Stomatal observation and density counts
  - Measure of vein densities
  - Chemistry of dry-grinded leaves

6.5 Protocols

- **Field** protocol

- π_{TLP} protocol
- **RWC** protocol
- **Stomata** protocol
- **FvFm** protocol
- **gmin** protocol
- **leaf venation** protocol

Part III

Part three : Results

Chapter 7

PCA results

The aim is to define a set of key traits that together explain why a species would be specialist or generalist.

Generalist species should display a greater degree of intraspecific variability in traits related to habitat use than specialists because they experience a wider range of environmental conditions and/or have inherently higher levels of phenotypic plasticity.

Here is an analysis aimed to explore co-variations of individual traits. Specifically, I investigated individual traits co-variation at two taxonomic scales: among species, and within species.

Chapter 8

Trait covariation

- Clean dataset

```
##   Code idTree Plot Subplot FieldNr pref.Habitat Habitat  spName Fresh_Weight.g.
## 1    1 145493   15       1     182           BF      BF Iry.hos           1.268
## 2    2 147663   15       3     178           TF      TF Gus.hex           1.293
## 3    3 147783   15       3     298           BF      BF Iry.hos           0.877
## 4    4 147625   15       3     140   Generalist      TF Tac.mel           0.258
## 5    5 148586   15       3    1103   Generalist      TF Chr.pri           1.087
## 6    6 149072   15       4     369   Generalist      TF Con.gui           2.196
##   Saturated_Weight.g. Delta_Weight_SW.FW.g. delta_en_._real delta_en_._clean
## 1               1.263                -0.005          -0.379           -0.379
## 2               1.320                 0.027           2.057            2.057
## 3               0.874                -0.003          -0.399           -0.399
## 4               0.256                -0.002          -0.814           -0.814
## 5               1.123                 0.036           3.340            3.340
## 6               2.211                 0.015           0.688            0.688
##   Dry_Weight.g.     RWC  LSWC P_osmo  P_tlp mean_Pmidday Fv.Fm LA..cm.2.
## 1         0.501 100.629 1.523 -1.130 -1.568           NA 0.786    45.231
## 2         0.464  96.890 1.842 -1.560 -1.911           NA 0.797    48.827
## 3         0.349 100.667 1.503 -1.028 -1.486           NA 0.807    41.215
## 4         0.121 101.554 1.118 -1.510 -1.871           NA 0.840     9.776
## 5         0.535  93.831 1.100 -2.403 -2.585       26.067 0.773    31.427
## 6         1.010  98.742 1.188 -1.328 -1.726       21.580 0.800    64.251
##   gmin..mmol.m.2.s.1. X1st_Order_Vein_Density..mm.mm.2.
## 1               1.235                             0.018
## 2               0.916                             0.031
## 3               1.046                             0.031
## 4               3.368                             0.058
## 5               1.869                                NA
```

```
## 6               6.776                             0.023
##   X2nd_Order_Vein_Density..mm.mm.2. X3rd_Order_Vein_Density..mm.mm.2.
## 1                             0.241                             0.682
## 2                             0.150                             0.347
## 3                             0.196                             0.640
## 4                             0.277                             0.789
## 5                                NA                                NA
## 6                             0.081                             0.301
##   Major_Vein_Density..mm.mm.2. Stomata_Density..nb.mm.2. Stomata_Size..um.2.
## 1                        0.941                        NA                  NA
## 2                        0.527                        NA                  NA
## 3                        0.867                        NA                  NA
## 4                        1.124                        NA                  NA
## 5                           NA                        NA                  NA
## 6                        0.405                        NA                  NA
##   Height_Tree Dawkin_Tree Height_Branch Dawkin_Branch Position_Crown
## 1          12           4            10             4            Sup
## 2          11           2             9             2            Sup
## 3          12           2            13             3            Sup
## 4          33           5            23             4            Mid
## 5          24           4            21             4            Sup
## 6          15           2            14             3            Sup
```

We aimed to explore co-variations of leaf traits belonging to 244 individuals from 24 species. We investigated trait co-variation at 2 taxonomic scales: (i) between species, (ii) within species between individuals.

Between all species, **26.34%** of the total variance was conserved on the two first axes from the PCA of the traits. The *first axis opposed SLA to CC and LT, from high SLA leaves to thick leaves rich in chlorophyll, whereas the second axis is related to LA and LDMC, increasing with leaf area and dry matter. The first axis highlighted a correlation between CC and LT. SLA and LA decoupled relation is enlightened within the PCA plane. Moreover for the two complexes, we observed a general trend of diameters distribution along the first PCA axis. Smaller diameter seemed linked to thinner leaves with increased SLA and less chlorophyll. Besides both axes showed significative complex segregation ($p-value < 0.0001$), the second PCA axis segregated the two complexes with no overlap.* Les 2 premiers axes de l' analyse expriment **26.34%** de l'inertie totale du jeu de données ; cela signifie que 26.34% de la variabilité totale du nuage des individus (ou des variables) est représentée dans ce plan. C'est un pourcentage relativement faible, et le premier plan ne représente donc seulement qu'une part de la variabilité contenue dans l'ensemble du jeu de données actif. Cette valeur est supérieure à la valeur référence de **14.1%**, la variabilité expliquée par ce plan est donc significative (cette intertie de référence est le quantile 0.95-quantile de la distribution des pourcentages d'inertie obtenue en simulant 2209 jeux de données aléatoires de dimensions comparables sur la base d'une distribution

normale).

Du fait de ces observations, il serait alors très probablement nécessaire de considérer également les dimensions supérieures ou égales à la troisième dans l'analyse.

Part IV

Part four : Notes

Chapter 9

26/01/2022

Metradica meeting

Presents:

- Ghislain
- Clément

- Sabrina
- Damien

- Jeanne
- Marion

Objectives:

1- les données 13C
2- les modèles joints

Notes:

(1)

L'estimation de l'efficience d'utilisation de l'eau intrinsèque peut être obtenue à l'aide de msures directes des échanges gazeux entre feuille et atm. Farquar 1982 propose un modèle simple reliant WUE (water use efficiency) à la discrimination isotopique du C au cours de la photosynthèse.

Relation WUE et δ 13C positive.

Drivers de la compo iso:

- Lumière (feuille d'ombre valeurs 13C nettement plus négatives)
- génétique
- sécheresse atm + sol
- VPD
- teneur en mx du sol
- ontogénie de l'individu
- conductance hydraulique

Attention: la compo iso n'est pas un trait lié à la sécheresse. Il caractérise *l'acclimation* à la sécheresse. Il est utile pour une expé en serre de comparer le δ 13C entre le groupe controle et le groupe dry. Une espèce sensible: on trouvera une forte différence vs. une espèce peu sensible, une faible différence. Et le *delta* ser aun trait de réponse à la sécheresse.

Travaux de Damien:

- 16 parcelles à travers la Guyane
- 9-10 sites

- ~100 arbres / parcelles
- ~1600 valeurs de compo iso de feuille d'arbres dominant
- 70 espèces différentes avec qq indet. par site; total de 392 espèces identifiées
- Moyenne valeur δ 13C ~ -30 %0 pour les forêts en Guyane
- Lorsque le climat est le même, on observe le même fonctionnement

(2)

Avant nous procédions par espèces, le but des modèles joints: faire avec plusieurs espèces en même temps.Les modèles joints de distribution des espèces permettent d'estimer la niche des espèces, de prédire leur distribution, tout en prenant en compte les intéractions entre espèces. Ils peuvent être utilisés pour déterminer les communautés ou assemblages d'espèces et comment ces assemblages changent spatialement, selon des gradients environnementaux.

Prendre en compte: la co-occurence des espèces + relation trait-env't pour déterminer la présence d'une espèce sur 1 site.

Si l'on inclu les données 13C dans les modèles joints: on s'attend à une abscence de réponse.

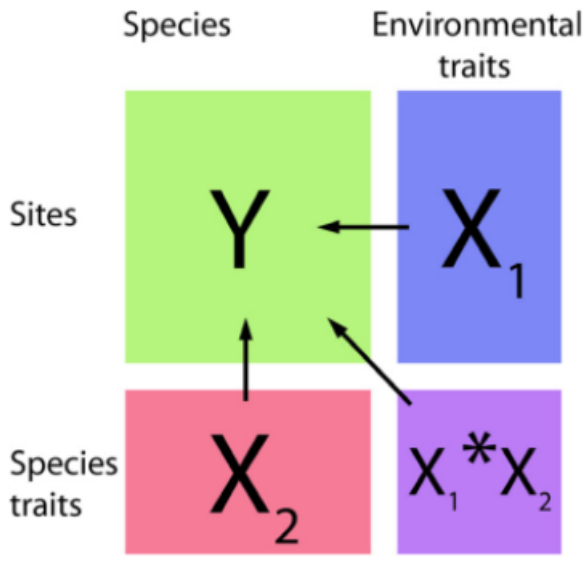

Figure 9.1: Modèle joint